# Network Manager Release Notes

Version 3.1

IQGeo, NINE Hills Road, Cambridge, CB2 1GE, United Kingdom.

Telephone: +44 (0) 1223 606655. Website: https://www.iqgeo.com/.

# Contents


1: Introduction ... 3
1.1 Overview ... 3
1.2 Intended audience ... 3
2: Documentation ... 4
3: Installation ... 5
3.1 Prerequisites ... 5
3.2 Installing the software ... 5
3.3 Creating a new database ... 6
3.4 Upgrading an existing database ... 6
4: End-user GUI changes ... 7
4.1 Exporting a design ... 7
4.2 Modeling the end of the network ... 8
5: Administrator GUI changes ... 12
5.1 Features Configuration page ... 12
5.1.1 Equipment reference field editor ... 12
6: REST API ... 13
6.1 External REST API ... 13
6.1.1 Feature create, read, update and delete API ... 13
6.1.2 Service feasibility API ... 13
6.1.3 Network trace API ... 14
7: Upgrading ... 15
7.1 Upgrading your database ... 15

# 1: Introduction

This release of Network Manager is compatible with IQGeo Platform 7.1.

This document provides a summary of the major changes in this release of Network Manager.

## 1.1 Overview

This release of Network Manager introduces a number of APIs that are designed to be external-facing and to improve integration with external systems.

In particular, APIs to support service provisioning and service assurance processes are provided. The service provisioning APIs provide support for the creation (including routing), update and deletion of circuits and to support service availability requests. The service assurance API provides a network trace API that allows OTDR[1] traces to be executed and results returned.

## 1.2 Intended audience

This document is intended for Administrators and Developers with a detailed technical knowledge of IQGeo Platform and Network ManagerTelecom.

[1]Optical time-domain reflectometer. This is an optoelectronic instrument used to characterize an optical fiber.

# 2: Documentation

The documentation set has been updated to reflect the new features described in the sections below.

The documentation also uses a responsive layout that adapts to the layout of the users' device and allows users to search across guides.

All documentation can be found in the *public/doc* directory.

# 3: Installation

The following changes relate to installation and upgrade.

## 3.1 Prerequisites

| Component | Version | Comments |
|---|---|---|
| IQGeo Platform | 7.1 | Mandatory |
| IQGeo Anywhere | 7.1 (or higher) | Optional |

All components must include any released patches.

## 3.2 Installing the software

1. Uncompress the software download and copy the **comms** folder into:

   ```
   <myWorld_install_dir>/WebApps/myworldapp/modules
   ```

2. Download the module's JavaScript dependencies:

   ```
   myw_product fetch node_modules
   ```

3. Download the module's Python dependencies:

   ```
   myw_product fetch pip_packages
   ```

4. Rebuild your JavaScript bundles:

   ```
   myw_product build applications
   ```

## 3.3 Creating a new database

If you do not already have an IQGeo database, or that database does not yet have the Network Manager tables installed, you will need to:

- Install the Network Manager tables.
- Configure the network object types for your installation.

These processes are covered in detail in the *Installation and Configuration Guide*.

## 3.4 Upgrading an existing database

If you already have a Network Manager database from a previous release, you will need to:

- Upgrade your database.
- Perhaps perform some post-upgrade configuration changes.

These processes are covered in detail in *Upgrading* on page 15.

# 4: End-user GUI changes

The following changes have been made to the end-user GUI.

## 4.1 Exporting a design

The **Export** icon on the design watermark, enables you to export a design to cdif[1].

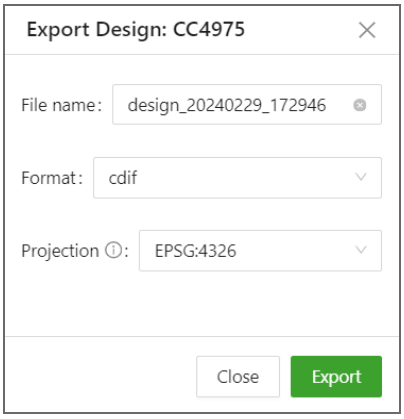


**Figure 4-1: Export Design dialog**

In the **Format** field, select *cdif* as the format to which you wish to export the design and then click the **Export** button to export the file, which then downloads to your device.

[1]CASE Data Interchange Format. This is a method of transferring information between CASE tools.

## 4.2 Modeling the end of the network

You can now model the customer end of an FTTH[1] network, making use of an address feature and a reference on the address, back to the equipment that serve the address.

Your system administrator will need to add the address feature to the system if you wish to make use of this example.

The following example describes how you can view and edit the relationship that an address has to the equipment.

- Equipment sits inside structures on the map and can be selected via the address of the structure where it is located.
- The **Serving Equipment** data item on the **Address Details** pane relates the address to the equipment or drop, that is serving it.

1. Click the **Edit** icon to open the following dialog:

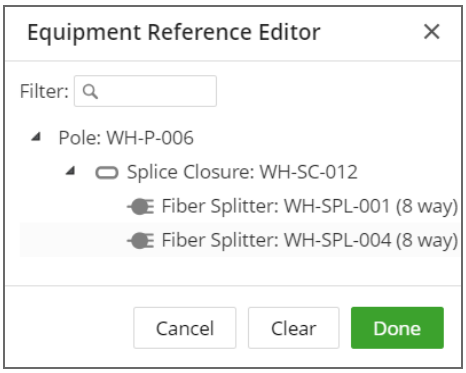


**Figure 4-2: Equipment Reference Editor dialog**

An equipment tree listing the equipment that serves the address, is shown in the dialog.

2. Click the piece of equipment on the list, that you wish to select, to be the serving equipment at the address.
3. Click the **Done** button to select the equipment. It is then shown beside the **Serving Equipment** item in the **Details** pane.
4. Click the **Save** button to save the changes.

You can then navigate to the serving equipment by clicking the hyperlinked equipment name beside the **Serving Equipment** data item:

[1]Fiber To The Home.

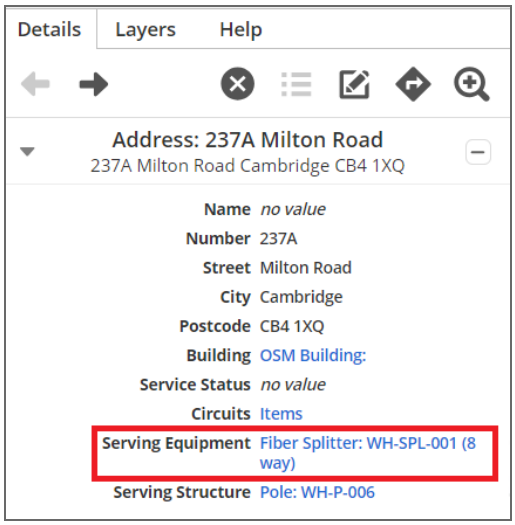


**Figure 4-3: Serving Equipment - hyperlinked Serving Equipment name**

The serving equipment details are then shown. There is a reverse reference set calculated, indicated by the **Items** hyperlink, beside **Served Customers**, as shown in the following screen shot:

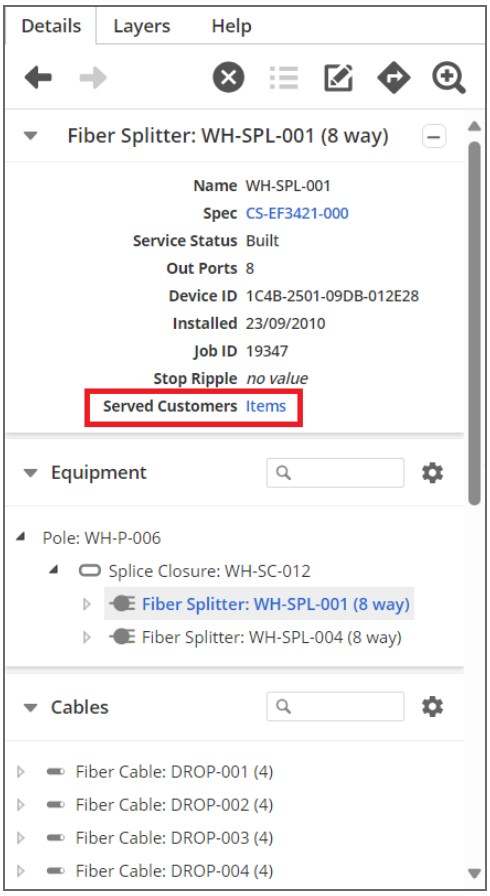


**Figure 4-4: Equipment details - Items reference set**

5. Click the **Items** hyperlink to open a list of customer addresses associated with the serving equipment:

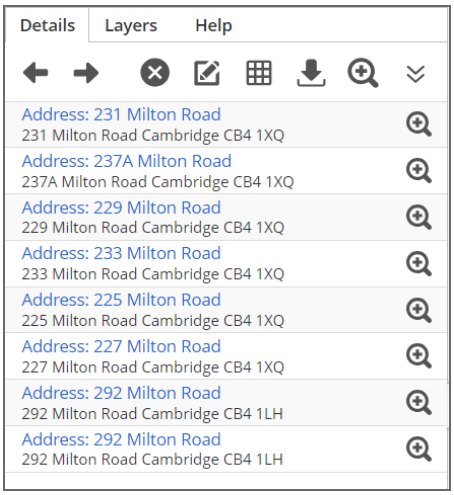


**Figure 4-5: List of customer addresses associated with the equipment**

You can then carry out a bulk update with the addresses on that equipment, and set the status to be *In Service*. Please refer to the *IQGeo Platform User Guide* for details on how to do this.

# 5: Administrator GUI changes

The following changes have been made to the Administrator GUI:

## 5.1 Features Configuration page

The following update has been made in the **Features Configuration** page.

### 5.1.1 Equipment reference field editor

A field editor class `myw.CommsEquipRefFieldEditor` is available to allow users to select the equipment for a reference field that relates equipment to the feature.

A situation where this might be used is, if your model has an address feature, and you wanted to have a reference field that relates the address to the equipment that serves it.

# 6: REST API

The following updates have made in the current release.

## 6.1 External REST API

Network Manager Telecom provides a number of APIs that are designed to be external-facing and to improve integration with external systems.

In particular, APIs to support service provisioning and service assurance processes are provided. The service provisioning APIs provide support for the creation (including routing), update and deletion of circuits and to support service availability requests. The service assurance API provides a network trace API that allows OTDR[1] traces to be executed and results returned. This API supports integration with fault management and automated test systems.

The APIs have been implemented following the TM Forum's (TMF) Resource Inventory API standard and are documented using the OpenAPI [2] standard. The API can be reviewed in Swagger or Postman to make it easy for system implementers to understand the details of the APIs, and work with them. Where relevant, the logic of the API has been implemented in an extensible way, to allow customer-specific behavior to be introduced, without impacting the actual API.

The API specification can be imported using one of the following API editors: Swagger Editor, Postman.

### 6.1.1 Feature create, read, update and delete API

The TMF resource inventory API provides a mechanism to query and manipulate the resources (features) of the inventory. This API supports get as well as create, update and delete operations. These are accessed by the HTTP verbs GET, POST, PATCH and DELETE respectively.

### 6.1.2 Service feasibility API

The TMF resource inventory API can be used to fetch a feature and the returned attribute information can be used to determine service feasibility.

---

[1]Optical time-domain reflectometer. This is an optoelectronic instrument used to characterize an optical fiber.

[2]The OpenAPI Specification, previously known as the Swagger Specification, is a specification for a machine-readable interface definition language for describing, producing, consuming and visualizing web services.

### 6.1.3 Network trace API

This trace API provides the same functionality as the internal trace API but is in the TMF style, and includes a schema for the result payload.

# 7: Upgrading

This section provides an overview of the upgrade process for this release.

## 7.1 Upgrading your database

To upgrade from the previous release of Network Manager:

1. Apply all IQGeo Platformupgrades:

   ```
   myw_db <db_name> upgrade core 71
   ```

2. Apply the Network Manager upgrade:

   ```
   myw_db <db_name> upgrade comms 7131
   ```

   The upgrade of the database has the following impact:

   - It adds configuration settings utilized by the new External REST API.

3. If any post-upgrade actions need to be performed, they are listed below.

Copyright © 2024, IQGeo UK Ltd. IQGeo is a registered ® trademark. All Rights Reserved. You may not reproduce this document in whole or in part without permission in writing from IQGeo at the following address:

IQGeo UK Ltd.

NINE Hills Road

Cambridge, CB2 1GE

United Kingdom

Tel: +44 (0) 1223 606655

E-mail: support@iqgeo.com

WWW: https://www.iqgeo.com/

All contents of this document are subject to change without notice and do not represent a commitment on the part of IQGeo. Reasonable effort is made to ensure the accuracy of the information contained in the document. However, due to on-going product improvements and revisions, IQGeo and its subsidiaries do not warrant the accuracy of this information and cannot accept responsibility for errors or omissions that may be contained in this document.

Information in this document is provided in connection with IQGeo products. No license, express or implied to any intellectual property rights is granted by this document.

IQGeo encourages all users of its products to procure all necessary intellectual property licenses required to implement any concepts or applications and does not condone or encourage any intellectual property infringement and disclaims any responsibility related thereto. These intellectual property licenses may differ from country to country and it is the responsibility of those who develop the concepts or applications to be aware of and comply with different national license requirements.

Windows® is a registered trademark of Microsoft Corporation in the United States and / or other countries. The other names of actual companies and products mentioned herein are the trademarks of their respective owners.